Walmart Excess Land

For Sale - Development Opportunity

7405 Debarr Road

Anchorage, AK Store #4359

Tract A: ± 12.813 Acres (558,135 SF), Zoned I-1

Tract C: ± 4.898 Acres (213,344 SF), Zoned R-2M

Utilities: Sewer is stubbed to the sites. Remaining utilities are adjacent to sites.

DEMOGRAPHICS:	1 Mile	3 Miles	5 Miles
Est Median HH Income:	$66,865	$62,460	$62,724
Est Population:	20,815	77,676	139,642
Est Housing:	7,809	28,572	48,545

Carl D. Kuhn, CCIM, SIOR

907-301-1155

carl@cdkuhn.com

Jack White COMMERCIAL

WALMART DEBARR | AERIAL

Carl D. Kuhn, CCIM, SIOR
907-301-1155
carl@cdkuhn.com
Jack White COMMERCIAL

WALMART DEBARR | EXCESS LAND

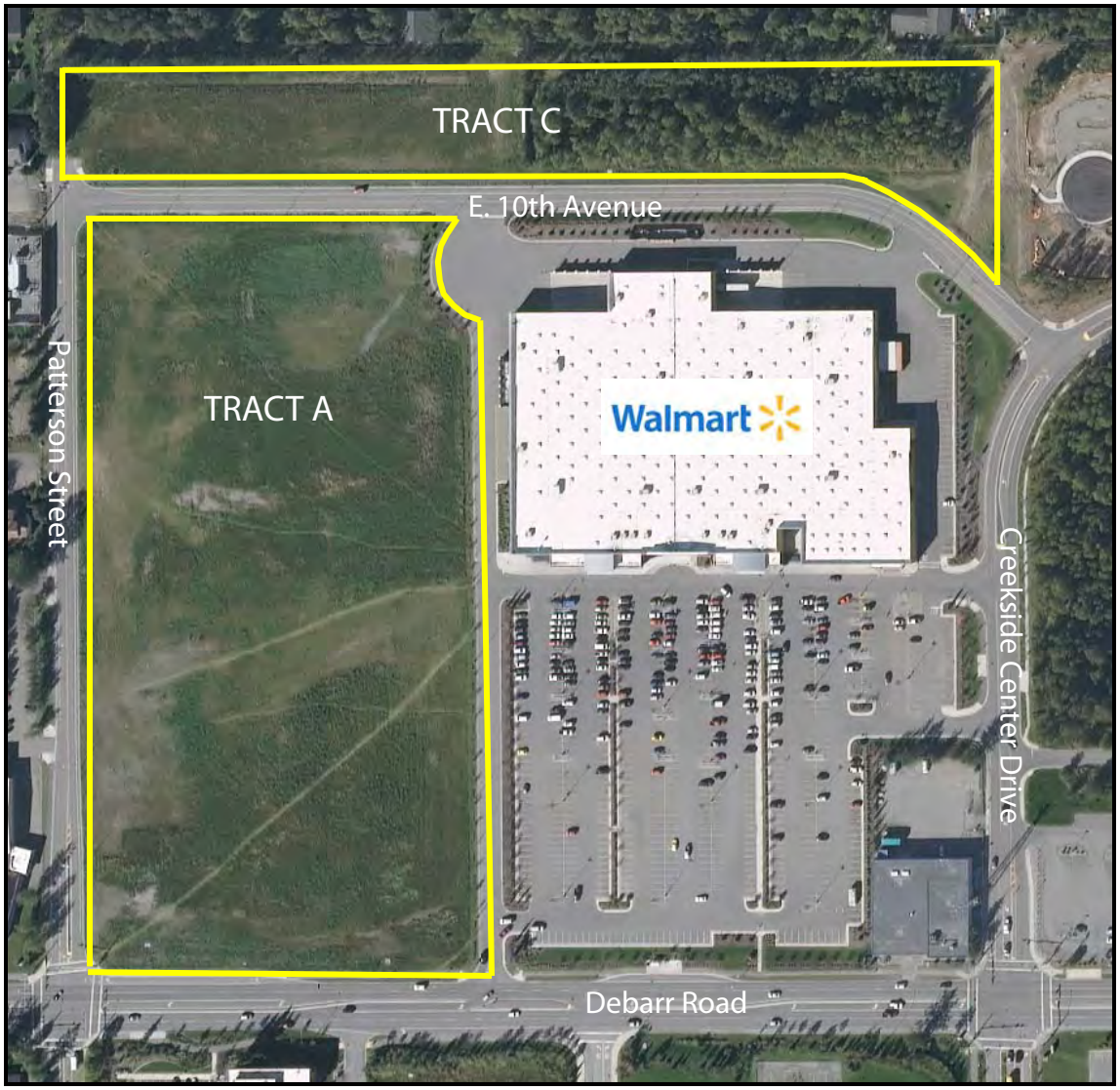

The Walmart outparcel tracts are located on Debarr Road, just west of Muldoon Road in northeast Anchorage. The tracts are close to Joint Base Elmendorf-Richardson and in the vicinity of the University of Alaska Anchorage, Alaska Pacific University and both the Providence and Alaska Native Medical Center campuses. They are adjacent to Walmart and in close proximity to Fred Meyer, Walgreens and a variety of other smaller retailers and restaurants.

Tract A is ±12.813 acres (558,135 SF), is zoned I-1, light commercial district, and is cleared of vegetation. It has great visibility fronting Debarr Road next to Walmart with easy access via Patterson Street.

Tract C is ±4.898 acres (213,344 SF) and is zoned R-2M, mixed residential district. The west half of Tract C is cleared of vegetation and the east half is in a natural vegetative state with trees. This tract is located on East 10th Avenue, to the north of Walmart, with easy access from Muldoon or Debarr Roads via Creekside Center Drive or Patterson Street.

Utilities: Sewer is stubbed to the tracts. The remaining utilities are adjacent.

Carl D. Kuhn, CCIM, SIOR
907-301-1155
carl@cdkuhn.com
Jack White COMMERCIAL

modern city
-
spectacular setting

Anchorage is a modern city located in one of the world's most spectacular settings with six mountain ranges serving as its natural backdrop. The financial, cultural, medical and shopping capital of Alaska, it measures 1,955 square miles and is the largest city in Alaska with a greater metropolitan area population of 300,549. With more than 150 daily passenger flights and 5 million passengers yearly, Ted Stevens Anchorage Inernational Airport makes Anchorage an air crossroads of the world.

The state attracts 1.8 million year-round visitors looking to experience Alaska's great outdoors. Shopping is the #1 visitor activity with retail sales in excess of $5.4 billion and no sales tax. A four-time recipient of the All-American City award, Anchorage reverberates with excitement whether during the dazzling summer days or winter when it transforms into a winter wonderland.

Carl D. Kuhn, CCIM, SIOR
907-301-1155
carl@cdkuhn.com

- 289,697 Anchorage total population, and the median age is 33.5
- Average household income of $93,532
- Anchorage International Airport is the world's third busiest airport by cargo traffic and receives 5 million passengers annually
- Convention impact of $105 million
- More than 8,700 hotel rooms and 850 bed and breakfast establishments
- Port of Anchorage receives 95% of all goods entering the state
- Dena'ina Civic and Convention Center accommodates up to 5,000 with 215,000 SF of meeting, ballroom and exhibit space
- Seven percent of all jobs in Southcentral Alaska are directly related to the visitor industry which translates to 12,600 people working in tourism and $349 million in labor income. Indirect employment adds an additional 5,000 jobs and $165 million in labor income
- 12,200 Military Troops stationed at Joint Base Elmendorf-Richardson

Carl D. Kuhn, CCIM, SIOR
907-301-1155
carl@cdkuhn.com

LEGEND

N 89°59'36" E 445.03'	MEASURED DATA THIS SURVEY
{S 89°57'50" W 445.00'}	RECORD DATA PER PLAT No. 2005-153
(S 89°57'50" W 445.00')	RECORD DATA PER PLAT No. 66-45
*	DATA COMPUTED PER RECORD SOURCE
L1	SEE LINE DATA TABLE, SHEET 1
C1	SEE CURVE DATA TABLE, SHEET 1
———	CENTERLINE OF ROAD
— — —	SECTION LINE
- - - -	ADJACENT LOT LINE
▬▬▬	SUBJECT PROPERTY
	SEE DETAIL
×	COMPUTED POINT, NOTHING SET
○	FOUND 5/8" REBAR
◎	FOUND 1-½" IRON PIPE
⊕	FOUND MONUMENT, SEE DETAIL ON SHEET 2 FOR MORE INFORMATION
◐	SET MONUMENT, SEE DETAIL ON SHEET 2 FOR MORE INFORMATION
M1	MONUMENT DESIGNATION, SEE DETAIL ON SHEET 2
Sec.	SECTION
Cor.	CORNER
HELD	POINT HELD
RD	POINT ESTABLISHED BY RECORD DISTANCE
DI-DI	POINT ESTABLISHED BY DISTANCE-DISTANCE METHOD
RO	POINT ESTABLISHED BY RECORD OFFSET
ESMT.	EASEMENT
(6)	SEE CORRESPONDING NUMBER UNDER NOTES ON SHEET 2
[D]	EASEMENT DEDICATED THIS PLAT
(10)	EASEMENT FALLS WITHIN RIGHT OF WAY DEDICATED THIS PLAT, SEE CORRESPONDING NUMBER UNDER NOTES ON SHEET 2
▭	RIGHT-OF-WAY DEDICATED THIS PLAT

CURVE DATA TABLE

CURVE	LENGTH	RADIUS	TANGENT	CHORD	BEARING	DELTA
C1	196.02'	250.00'	103.36'	191.04'	N 67°51'43" W	44°55'27"
C2	432.12'	275.00'	275.15'	389.01'	S 44°36'01" W	90°01'50"
C3	129.60'	275.00'	66.03'	128.41'	S 13°05'11" W	27°00'11"
C4	86.45'	275.00'	43.59'	86.10'	S 35°35'39" W	18°00'44"
C5	216.06'	275.00'	113.95'	210.54'	S 67°06'28" W	45°00'55"
C6	78.43'	50.00'	49.89'	70.63'	S 45°23'15" E	89°52'22"
C7	31.46'	20.00'	20.04'	28.32'	S 44°36'45" W	90°07'38"
C8	172.50'	220.00'	90.96'	168.11'	N 67°51'43" W	44°55'27"
C9	31.37'	20.00'	19.96'	28.25'	S 45°23'15" E	89°52'22"
C10	219.54'	280.00'	115.76'	213.96'	N 67°51'43" W	44°55'27"
C11	67.34'	50.00'	39.89'	62.36'	S 83°58'48" E	77°09'37"
C12	174.09'	310.00'	89.41'	171.81'	S 73°31'39" W	32°10'32"
C13	59.69'	38.00'	38.00'	53.74'	N 44°36'58" E	89°59'56"
C14	148.73'	310.00'	75.83'	147.31'	S 13°19'47" W	27°29'22"
C15	377.12'	240.00'	240.13'	339.50'	S 44°36'01" W	90°01'50"

LINE DATA TABLE

MEASURED DATA			RECORD DATA		
LINE	LENGTH	BEARING	LINE	LENGTH	BEARING
L1	42.42'	N 45°23'59" W	- -	- -	- -
L2	71.60'	N 45°23'59" W	- -	- -	- -
L3	35.00'	S 89°40'34" W	- -	- -	- -
			- -	- -	- -
L5	25.61'	N 45°23'59" W	- -	- -	- -
L6	42.44'	N 00°24'54" W	- -	- -	- -
L7	42.44'	N 00°24'54" W	- -	- -	- -
L8	42.44'	S 00°24'46" E	- -	- -	- -
L9	120.29'	S 00°24'46" E	- -	- -	- -
L10	123.09'	N 00°19'09" W	{L10}	{123.02'}	{N 00°02'00" W}
L11	49.94'	S 89°36'56" W	- -	- -	- -
L12	49.92'	N 89°39'48" E	{L12}	{50.00'}	{N 89°58'54" E}
L13	143.09'	N 00°24'54" W	- -	- -	- -

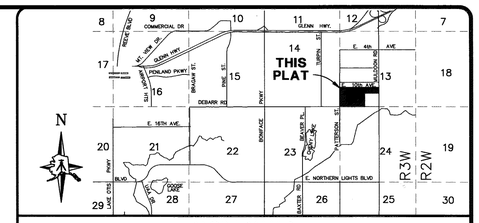

VICINITY MAP
1" = 1 MILE

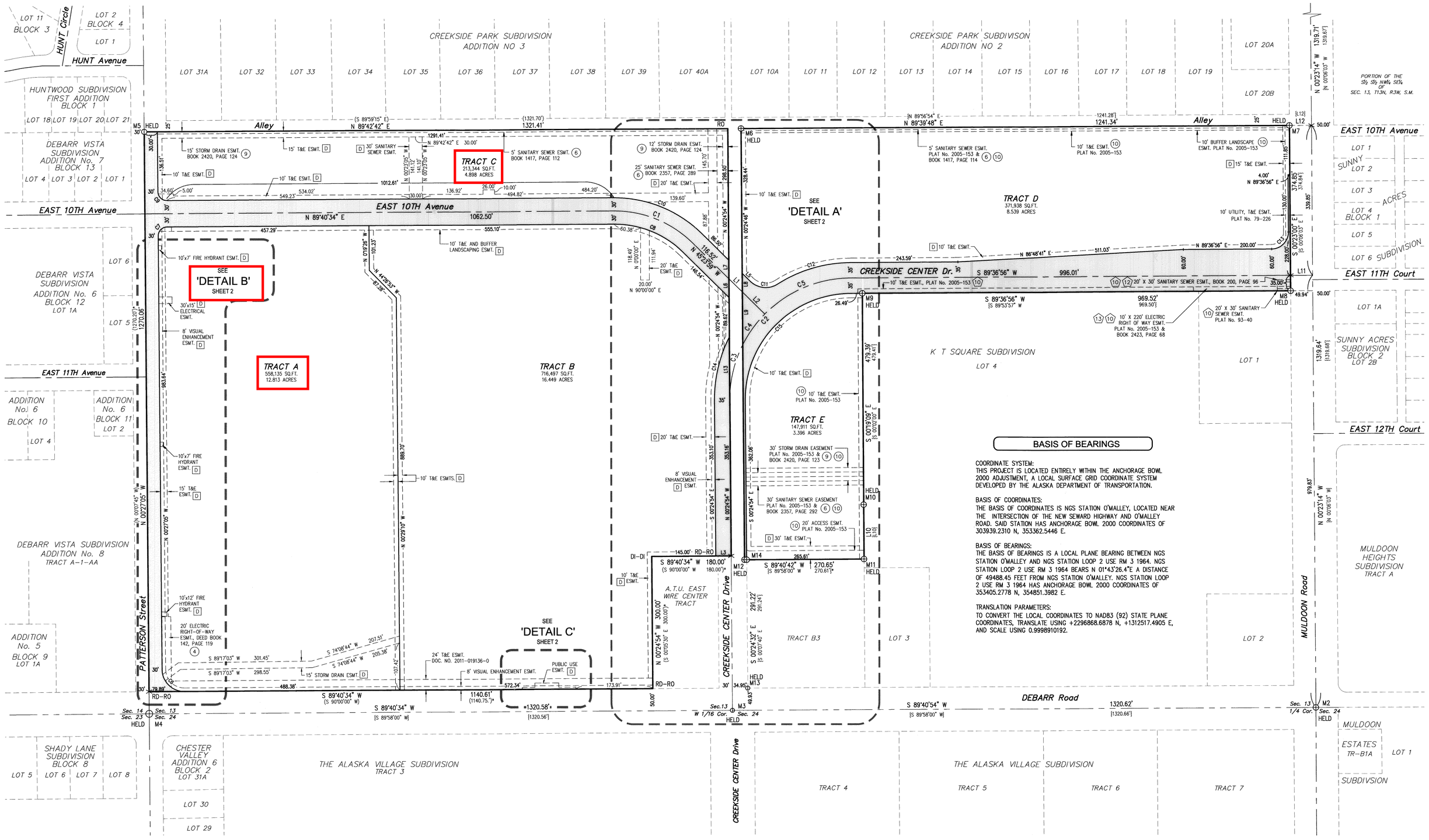

BASIS OF BEARINGS

COORDINATE SYSTEM:
THIS PROJECT IS LOCATED ENTIRELY WITHIN THE ANCHORAGE BOWL 2000 ADJUSTMENT, A LOCAL SURFACE GRID COORDINATE SYSTEM DEVELOPED BY THE ALASKA DEPARTMENT OF TRANSPORTATION.

BASIS OF COORDINATES:
THE BASIS OF COORDINATES IS NGS STATION O'MALLEY, LOCATED NEAR THE INTERSECTION OF THE NEW SEWARD HIGHWAY AND O'MALLEY ROAD. SAID STATION HAS ANCHORAGE BOWL 2000 COORDINATES OF 303939.2310 N, 353362.5446 E.

BASIS OF BEARINGS:
THE BASIS OF BEARINGS IS A LOCAL PLANE BEARING BETWEEN NGS STATION O'MALLEY AND NGS STATION LOOP 2 USE RM 3 1964. NGS STATION LOOP 2 USE RM 3 1964 BEARS N 01°43'26.4"E A DISTANCE OF 49488.45 FEET FROM NGS STATION O'MALLEY. NGS STATION LOOP 2 USE RM 3 1964 HAS ANCHORAGE BOWL 2000 COORDINATES OF 353405.2778 N, 354851.3982 E.

TRANSLATION PARAMETERS:
TO CONVERT THE LOCAL COORDINATES TO NAD83 (92) STATE PLANE COORDINATES, TRANSLATE USING +2296868.6878 N, +1312517.4905 E, AND SCALE USING 0.9998910192.

N

GRAPHIC SCALE
(IN FEET)
1 inch = 100 ft.

CERTIFICATE OF OWNERSHIP AND DEDICATION

I (WE), HEREBY CERTIFY THAT I (WE) HOLD THE HEREIN SPECIFIED PROPERTY INTEREST IN THE PROPERTY DESCRIBED HEREON. I (WE) HEREBY DEDICATE TO THE MUNICIPALITY OF ANCHORAGE ALL AREAS DEPICTED FOR USE AS PUBLIC UTILITY EASEMENTS, STREETS, ALLEYS, THOROUGHFARES, PARKS, AND OTHER PUBLIC AREAS SHOWN HEREON. THERE SHALL BE RESERVED ADJACENT TO THE DEDICATED STREETS SHOWN HEREON A SLOPE RESERVATION EASEMENT SUFFICIENT TO CONTAIN CUT AND FILL SLOPES OF 1.5 FEET HORIZONTAL FOR EACH 1 FOOT VERTICAL (1.5 TO 1) OF CUT OR FILL FOR THE PURPOSE OF PROVIDING AND MAINTAINING THE LATERAL SUPPORT OF THE CONSTRUCTED STREETS. THERE IS RESERVED TO THE GRANTORS, THEIR HEIRS, SUCCESSORS AND ASSIGNS, THE RIGHT TO USE SUCH AREAS AT ANY TIME UPON PROVIDING AND MAINTAINING OTHER ADEQUATE LATERAL SUPPORT, AS APPROVED BY THE MUNICIPALITY.

I (WE) HEREBY AGREE TO THIS PLAT, AND TO ANY RESTRICTION OR COVENANT APPEARING HEREON AND ANY SUCH RESTRICTION OR COVENANT SHALL BE BINDING AND ENFORCEABLE AGAINST PRESENT AND SUCCESSIVE OWNERS OF THIS SUBDIVIDED PROPERTY.

BY: JOHN CLARKE – REGIONAL VICE PRESIDENT
FOR: WAL-MART STORES, INC.
2001 S.E. 10TH STREET
BENTONVILLE, AR 72716-0550

NOTARY'S ACKNOWLEDGMENT

"NOTARY SEAL"
TWANA HOGUE
State of Arkansas, Benton County
My Commission Expires 11/1/2015

John Clarke PERSONALLY APPEARED SUBSCRIBED AND SWORN TO BEFORE ME THIS 30 DAY OF August, 2012

Twana Hogue 11-1-2015
NOTARY FOR ARKANSAS MY COMMISSION EXPIRES

ACCEPTANCE OF DEDICATION BY THE MUNICIPALITY OF ANCHORAGE

THE MUNICIPALITY OF ANCHORAGE HEREBY ACCEPTS FOR PUBLIC USES AND FOR PUBLIC PURPOSES THE REAL PROPERTY DEDICATED ON THIS PLAT INCLUDING, BUT NOT LIMITED TO THE EASEMENTS, RIGHTS-OF-WAY, ALLEYS, ROADWAYS, THOROUGHFARES, AND PARKS SHOWN HEREON. DATED AT ANCHORAGE, ALASKA, THIS

11th DAY OF September, 2012

ATTEST: Amanda K. Moser
DEPUTY CLERK

FOR: MAYOR

MUNICIPAL CLERK ANCHORAGE, ALASKA

PLAT APPROVAL

PLAT APPROVED BY THE MUNICIPAL PLATTING AUTHORITY THIS

12th DAY OF September, 2012

AUTHORIZED OFFICIAL

APPROVALS:

PLATTING OFFICER 9/12/12

MUNICIPAL SURVEYOR 9/4/2012

TAX CERTIFICATION

ALL REAL PROPERTY TAXES LEVIED BY THE MUNICIPALITY OF ANCHORAGE ON THE AREAS SHOWN ON THIS PLAT HAVE BEEN PAID IN FULL, AND IF APPROVAL IS SOUGHT BETWEEN JANUARY 1 AND THE TAX DUE DATE, THERE IS ON DEPOSIT WITH THE CHIEF FISCAL OFFICER AN AMOUNT SUFFICIENT TO PAY ESTIMATED REAL PROPERTY TAX FOR THE CURRENT YEAR.

9-6-12 DATE — AUTHORIZED OFFICIAL

STATE OF ALASKA 49TH Kenneth W. Ayers LS-8535 REGISTERED PROFESSIONAL LAND SURVEYOR 8/31/12

SURVEYOR'S CERTIFICATE

I, KENNETH W. AYERS, PROFESSIONAL LAND SURVEYOR DO HEREBY CERTIFY THAT THE PLAT OF TRACTS A, B, C, D, & E, CREEKSIDE SUBDIVISION, IS A TRUE AND CORRECT REPRESENTATION OF LANDS ACTUALLY SURVEYED AND THAT ALL THE DISTANCES AND BEARINGS ARE SHOWN CORRECTLY AND THAT ALL PERMANENT EXTERIOR CONTROL MONUMENTS AND TRACT CORNERS HAVE BEEN SET AND STAKED, OR IF FINAL COMPLETION IS ASSURED BY SUBDIVISION AGREEMENT, THEY WILL BE SET AS SPECIFIED IN SAID SUBDIVISION AGREEMENT, WHICH EXPIRES JULY 19, 2015.

8/31/12 DATE — SIGNATURE OF LAND SURVEYOR

CREEKSIDE SUBDIVISION
TRACTS A, B, C, D, & E

A SUBDIVISION OF
SEE LEGAL DESCRIPTION ON SHEET 2

LOCATED WITHIN THE SOUTHWEST ¼ OF SECTION 13, TOWNSHIP 13 NORTH, RANGE 3 WEST, SEWARD MERIDIAN, ANCHORAGE RECORDING DISTRICT, THIRD JUDICIAL DISTRICT, STATE OF ALASKA
CONTAINING: 51.71 ACRES

LOUNSBURY & ASSOCIATES, INC.
SURVEYORS-PLANNERS-ENGINEERS
5300 A STREET ANCHORAGE, ALASKA 99518
PHONE (907) 272-5451 FAX (907) 272-9065
LOUNSBURYINC.com

DATE	AUGUST 20, 2012	SCALE	1" = 100'
DRAWN	RJK/DJB	GRID	SW1340
CHECKED	KWA/GH	F.B. NO.	05-026/05-026A
DWG NAME	05-026_FP.dwg	SHEET 1 OF 2	CASE No. S-11694-3

Anchorage Recording District Plat 2012-65

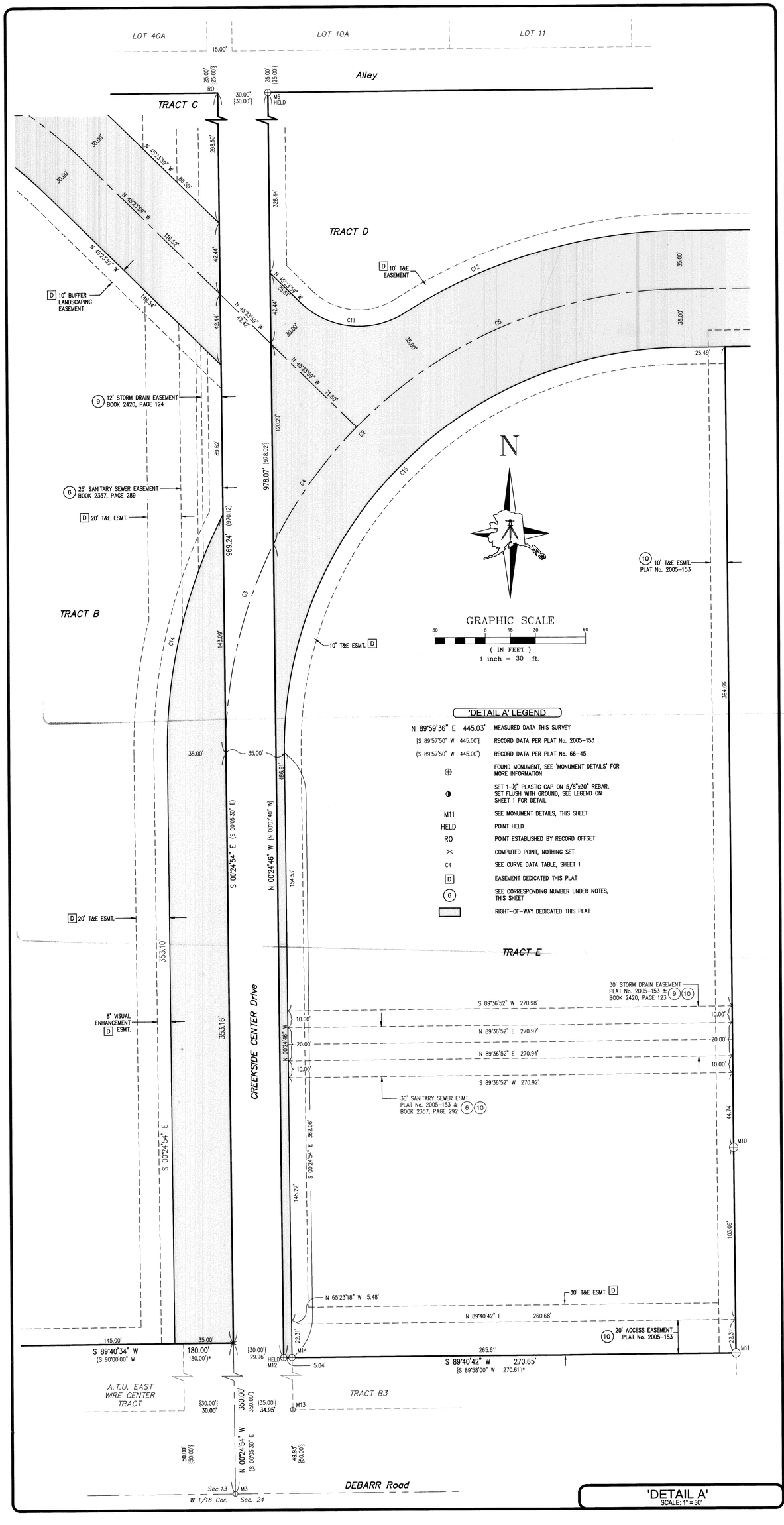

'DETAIL A'
SCALE: 1" = 30'

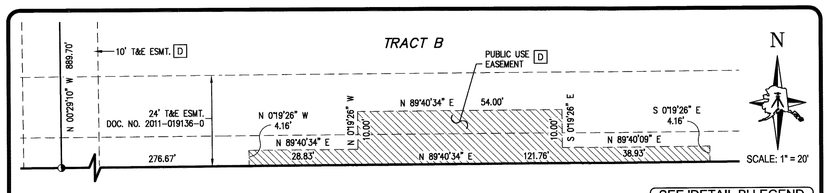

'DETAIL C'
SCALE: 1" = 20'

MONUMENT DETAILS

NOT TO SCALE

M1 — ILLEGIBLE
FOUND 2-1/2" BRASS CAP MONUMENT 0.3' BELOW GROUND IN CASE

M2 — ILLEGIBLE
FOUND 2-1/2" BRASS CAP MONUMENT 0.8' BELOW GROUND IN CASE

M3 — DOWL W 1/16 S13 S24 2001 6714-S
FOUND 2-3/4" ALUMINUM CAP MONUMENT FLUSH WITH GROUND IN ASPHALT

M4 — DEPT. OF TRANSPORTATION CENTERLINE MONUMENT
FOUND 2-1/2" BRASS CAP MONUMENT 0.5' BELOW GROUND

M5 — DOWL S 1/16 S14 S13 2001 6714-S
FOUND 2-1/2" ALUMINUM CAP 0.1' BELOW GROUND

M6 — TNH 949-S TR B ICT SQUARE 1979
FOUND 2-1/2" ALUMINUM MONUMENT 0.7' BELOW GROUND

M7 — DOWL KTS ROW TR B2 ROW 6714-S 2005
FOUND 3-1/4" DIA. ALUMINUM CAP ON A 2-1/2" DIA. X 30" ALUMINUM PIPE 0.2' BELOW GROUND WITH DEEP-1 MAGNETS

M8 — DOWL KTS TR B2 ROW 6714-S 2005
FOUND 3-1/4" DIA. ALUMINUM CAP ON A 2-1/2" DIA. X 30" ALUMINUM PIPE 0.1' BELOW GROUND WITH DEEP-1 MAGNETS

M9 — DOWL KTS TR B2 6714-S 2005
FOUND 3-1/4" DIA. ALUMINUM CAP ON A 2-1/2" DIA. X 30" ALUMINUM PIPE 0.2' BELOW GROUND WITH DEEP-1 MAGNETS

M10 — DOWL TR B LOT 4 KT SQ 1993
FOUND 2-1/2" ALUMINUM CAP ON A 2-1/2" DIA. ALUMINUM PIPE 0.5' BELOW GROUND

M11 — DOWL KTS TR B2 TR B3 2005 6714-S
FOUND 2" DIA. ALUMINUM CAP ON A 5/8" DIA. X 30" REBAR 0.15' BELOW ASPHALT

M12 — DOWL KTS ROW TR B2 ROW 2005 6714-S
FOUND 2" DIA. ALUMINUM CAP ON A 5/8" DIA. X 30" REBAR 0.2' BELOW GROUND

M13 — DOWL KTS ROW TR B3 ROW 2005 6714-S
FOUND 2" DIA. ALUMINUM CAP FLUSH WITH PAVEMENT

M14 — DOWL KTS TR B2 ROW TR B3 2005 6714-S
FOUND 2" DIA. ALUMINUM CAP 0.1' BELOW GROUND

NOTES

1. RIGHT-OF-WAY DIMENSIONS SHOWN TO THE FOOT ARE INTENDED TO BE ACCURATE TO THE HUNDREDTH OF A FOOT I.E. 35'=35.00'
2. ACCESS IS SHARED IN COMMON BETWEEN TRACTS A AND B.
3. TELEPHONE EASEMENT, IN FAVOR OF THE CITY OF ANCHORAGE, A MUNICIPAL CORPORATION, EXISTS IN DEED BOOK 124, AT PAGE 266.
4. EASEMENTS OF RECORD, OTHER THAN THOSE SHOWN ON PLAT 2005-153, OR IN THE CERTIFICATE TO PLAT PREPARED BY STEWART TITLE OF ALASKA ORDER NO. 01029-84430, DATED APRIL 2, 2012, ARE NOT SHOWN HEREON.
5. NATURAL GAS EASEMENT IN FAVOR OF ENSTAR NATURAL GAS COMPANY EXISTS IN SERIAL NO. 2009-032210-0.
6. SANITARY SEWER EASEMENTS IN FAVOR OF, ANCHORAGE, A MUNICIPAL CORPORATION, EXIST IN IN BOOK 1417, AT PAGES 112 AND 114, AND IN BOOK 2357, AT PAGES 289 AND 292. PORTIONS OF THIS EASEMENT FALL WITHIN THE RIGHT OF WAY DEDICATED THIS PLAT.
7. DRAINAGE EASEMENT, IN FAVOR OF ANCHORAGE, EXISTS IN BOOK 760, AT PAGE 971. THIS EASEMENT FALLS WITHIN THE RIGHT OF WAY DEDICATED THIS PLAT.
8. LEVIED ASSESSMENTS FOR LATERAL IMPROVEMENTS, IN FAVOR OF THE CREEKSIDE SPECIAL ASSESSMENT DISTRICT No. 158, EXIST IN RESOLUTION No. 87-310 FOUND IN BOOK 1783, AT PAGE 950.
9. STORM DRAIN EASEMENTS IN FAVOR OF ANCHORAGE, A MUNICIPAL CORPORATION, EXIST IN BOOK 2420, AT PAGES 123 AND 124. PORTIONS OF THESE EASEMENTS FALL WITHIN THE RIGHT OF WAY DEDICATED THIS PLAT.
10. EASEMENTS AS SHOWN ON THE PLAT OF KT SQUARE SUBDIVISION, PLAT NO. 2005-153, ANCHORAGE RECORDING DISTRICT.

    20' X 30' SANITARY SEWER EASEMENT SHOWN IN THE SOUTHEAST CORNER OF TRACT B1, PLAT 93-40, FALLS WITHIN RIGHT OF WAY DEDICATED THIS PLAT.

    THE 10' T&E EASEMENTS BORDERING THE NORTH LINE OF LOT 4 AS SHOWN ON PLAT No. 2005-153 FALLS WITHIN RIGHT OF WAY DEDICATED THIS PLAT.
11. SANITARY SEWER EASEMENT, IN FAVOR OF ANCHORAGE, DOING BUSINESS AS ANCHORAGE WATER AND WASTEWATER UTILITY, EXISTS IN BOOK 2514, AT PAGE 592. EASEMENT FALLS WITHIN RIGHT OF WAY DEDICATED THIS PLAT.
12. 20' X 30' SANITARY SEWER EASEMENT, IN FAVOR OF ANCHORAGE, EXISTS IN BOOK 200, AT PAGE 96. EASEMENT FALLS WITHIN RIGHT OF WAY DEDICATED THIS PLAT.
13. ELECTRIC EASEMENT EXISTS, IN FAVOR OF CHUGACH ELECTRIC ASSOCIATION, INC., IN BOOK 2423, AT PAGE 68. EASEMENT FALLS WITHIN RIGHT OF WAY DEDICATED THIS PLAT.
14. PORTIONS OF THIS SUBDIVISION ARE SITUATED WITHIN THE FLOOD HAZARD DISTRICT AS IT EXISTS ON THE DATE HEREOF. THE BOUNDARIES OF THE FLOOD HAZARD DISTRICT MAY BE ALTERED FROM TIME TO TIME IN ACCORDANCE WITH THE PROVISIONS OF SECTION 21.60.020 (ANCHORAGE MUNICIPAL CODE). ALL CONSTRUCTION ACTIVITIES AND ANY LAND USE WITHIN THE FLOOD HAZARD DISTRICT SHALL CONFORM TO THE REQUIREMENTS OF CHAPTER 21.60 (ANCHORAGE MUNICIPAL CODE).
15. THERE ARE EXISTING ELECTRIC FACILITIES INSTALLED UNDER AN EASEMENT RECORDED IN VOLUME 142, PAGE 119 NOT BEING DEDICATED BY THIS PLAT.
16. THERE ARE EXISTING ELECTRIC FACILITIES INSTALLED UNDER GENERAL EASEMENT RECORDED AT VOLUME 117, PAGE 325 NOT BEING DEDICATED THIS PLAT.
17. CEA HAS EXISTING ELECTRIC FACILITIES LOCATED WITHIN THE ROAD RIGHT OF WAY AREAS BEING DEDICATED BY THIS PLAT. THE USE OF THIS PORTION OF THE RIGHT OF WAY IS SUBJECT TO THE PRIOR RIGHT OF CEA. IF THE USE OF THIS PORTION OF THE DEDICATED RIGHT OF WAY INTERFERES WITH OR REQUIRES THESE FACILITIES TO BE RELOCATED, THE COST OF RELOCATION WILL BE THE RESPONSIBILITY OF THE PARTY OR PARTIES CAUSING THE RELOCATION.
18. WHERE THE UTILITY, ELECTRIC, OR T&E EASEMENTS ARE OVERLAPPED BY THE BUFFER LANDSCAPE OR SCREENING EASEMENTS, THE UTILITY SHALL HAVE THE RIGHT WITHIN THE AREA OF ITS EASEMENT TO CUT, TRIM, REMOVE, AND CONTROL THE GROWTH OF TREES, SHRUBS AND OTHER VEGETATION THAT IN ITS JUDGMENT MAY INTERFERE WITH THE PROPER INSTALLATION, FUNCTIONING, AND MAINTENANCE OF THE UTILITY FACILITIES WITHOUT ANY OBLIGATION TO CONSULT THE LANDOWNER. ALL AREAS WITHIN THE BUFFER LANDSCAPE OR SCREENING EASEMENTS UTILIZED FOR ELECTRIC LINE INSTALLATION AND MAINTENANCE WILL NOT BE REVEGETATED BY THE ELECTRIC UTILITY. THE ELECTRIC UTILITY WILL NOT BE FINANCIALLY RESPONSIBLE FOR DAMAGED LANDSCAPING LOCATED WITHIN THE ELECTRIC OR UTILITY EASEMENTS.
19. BUFFER LANDSCAPING MEETING THE REQUIREMENTS OF AMC 21.45.125.C.2 SHALL BE INSTALLED AND MAINTAINED WITHIN THE BUFFER LANDSCAPE EASEMENTS BY THE PROPERTY OWNER OR BY HIS/HER DESIGNEE.
20. UNLESS OTHERWISE DESIGNATED, ALL ANGLE POINTS, ALL TRACT CORNERS, BOUNDARY CORNERS, P.C.'S, P.T.'S, AND S.I.'S OF THIS SUBDIVISION HAVE BEEN MARKED WITH A 1-1/2" YELLOW PLASTIC CAP ON A 5/8" X 30" REBAR, SET FLUSH WITH GROUND, WITH TYPICAL MARKINGS: LOUNSBURY & ASSOCIATES LS 8535

2012-65
Plat # ANCHORAGE
Rec Dist
9-13 2012
Date
Time 12:41 p.M.

LEGAL DESCRIPTIONS

PARCEL 1
Tract B2, K T SQUARE, according to the official plat thereof, filed under Plat No. 2005-153 in the records of the Anchorage Recording District, Third Judicial District, State of Alaska.

PARCEL 2
Northeast one-quarter of the Southwest one-quarter of the Southwest one-quarter (NE 1/4 of SW 1/4 of SW 1/4) of Section 13, Township 13 North, Range 3 West, Seward Meridian, according to the official Bureau of Land Management survey thereof, being located in the Anchorage Recording District, Third Judicial District, State of Alaska.

PARCEL 3
Southeast one-quarter of the Southwest one-quarter of the Southwest one-quarter (SE 1/4 of SW 1/4 of SW 1/4) of Section 13, Township 13 North, Range 3 West, Seward Meridian, according to the official Bureau of Land Management survey thereof, being located in the Anchorage Recording District, Third Judicial District, State of Alaska, EXCEPTING THEREFROM the East 180 feet of the South 350 feet of said SE 1/4 of the SW 1/4 of the SW 1/4 as conveyed to the City of Anchorage by deed recorded May 3, 1966 in Deed Book 324 at Page 124; and FURTHER EXCEPTING THEREFROM the South 50 feet acquired by the State of Alaska, Department of Highways for DeBarr Road pursuant to Judgment recorded January 21, 1982 in Book 691 at Page 576.

PARCEL 4
Northwest one-quarter of the Southwest one-quarter of the Southwest one-quarter (NW 1/4 of SW 1/4 of SW 1/4) of Section 13, Township 13 North, Range 3 West, Seward Meridian, according to the official Bureau of Land Management survey thereof, being located in the Anchorage Recording District, Third Judicial District, State of Alaska.

PARCEL 5
Southwest one-quarter of the Southwest one-quarter of the Southwest one-quarter (SW 1/4 of SW 1/4 of SW 1/4) of Section 13, Township 13 North, Range 3 West, Seward Meridian, according to the official Bureau of Land Management survey thereof, being located in the Anchorage Recording District, Third Judicial District, State of Alaska, EXCEPTING THEREFROM the South 50 feet acquired by the State of Alaska, Department of Highways for DeBarr Road pursuant to Judgment recorded January 21, 1982 in Book 691 at Page 576.

'DETAIL B' LEGEND

EC1 SEE "EASEMENT DETAIL CURVE DATA TABLE," THIS SHEET

EASEMENT AREA, HATCHING FOR ILLUSTRATION ONLY

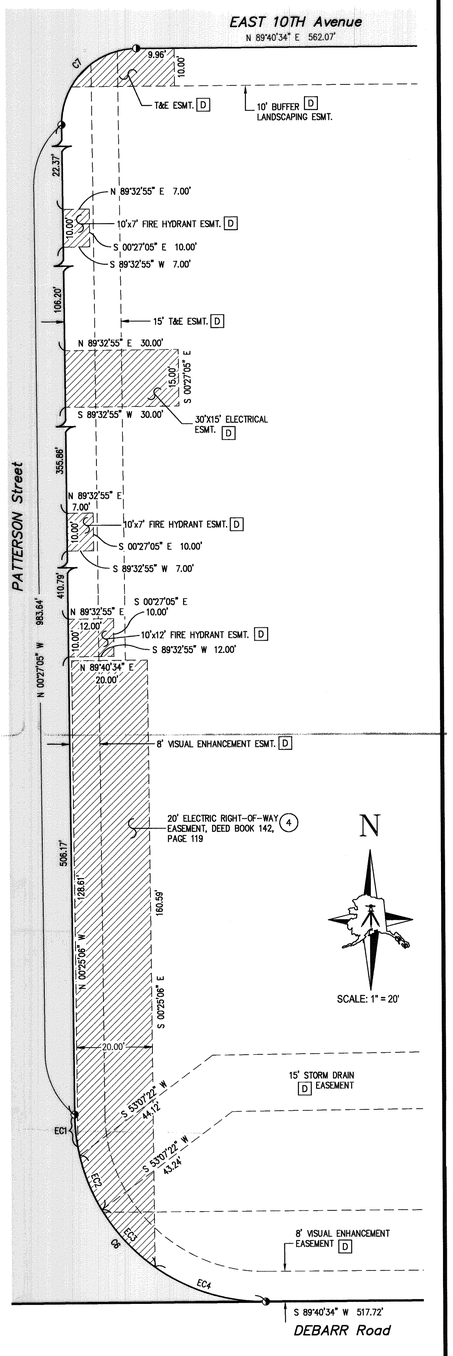

EASEMENT DETAIL CURVE DATA TABLE

CURVE	LENGTH	RADIUS	TANGENT	CHORD	BEARING	DELTA
EC1	8.54'	50.00'	4.28'	8.53'	N 05°20'34" W	9°47'00"
EC2	15.59'	50.00'	7.86'	15.53'	N 21°52'50" W	17°52'02"
EC3	20.75'	50.00'	10.53'	20.60'	N 42°42'07" W	23°46'33"
EC4	31.18'	50.00'	16.12'	30.68'	N 72°27'25" W	35°44'02"

'DETAIL B'
SCALE: 1" = 20'

CREEKSIDE SUBDIVISION
TRACTS A, B, C, D, & E

A SUBDIVISION OF
SEE LEGAL DESCRIPTION

LOCATED WITHIN THE SOUTHWEST ¼ OF SECTION 13, TOWNSHIP 13 NORTH, RANGE 3 WEST, SEWARD MERIDIAN, ANCHORAGE RECORDING DISTRICT, THIRD JUDICIAL DISTRICT, STATE OF ALASKA
CONTAINING: 51.71 ACRES

LOUNSBURY & ASSOCIATES, INC.
SURVEYORS-PLANNERS-ENGINEERS
5300 A STREET ANCHORAGE, ALASKA 99518
PHONE (907) 272-5451 FAX (907) 272-9065
LOUNSBURYINC.com

DATE	AUGUST 20, 2012	SCALE	NOT TO SCALE
DRAWN	RJK/DJB	GRID	SW1340
CHECKED	KWA/GH	F.B. NO.	05-026/05-026A
DWG NAME	05-026_FP.dwg	SHEET 2 OF 2	CASE No. S-11694-3

Lounsbury & Associates, Inc.

5300 A Street
Anchorage, Alaska 99518
Tom Adams, P.E.
(907) 357-9129
(907) 357-9140
t.adams@lounsburyinc.com

Location of Project:	***Anchorage, Alaska***		
Store Type:	***Supercenter***		
Size of the Store:	***176***	Store #:	***4359***
Date of this Report:	***Wednesday, January 09, 2013***		

OUTLOT/EXCESS LAND			**SETBACKS** Minimum building setbacks for each property				**ZONING** Current zoning
Lot #	**Size *(in Acres)***	**Square footage**	**Front**	**Left Side**	**Right Side**	**Back**	**Zoning**
Tract A	***12.81 AC***	**558,134**	***10'***	***0'***	***0'***	***0'***	***I-1***
Tract C	***4.90 AC***	**213,357**	***20'***	***5'***	***5'***	***10'***	***R-2M***
Tract D	***8.54 AC***	**371,959**	***20'***	***10'***	***10'***	***20'***	***R-3***
Tract E	***3.40 AC***	**147,930**	***20'***	***10'***	***10'***	***20'***	***R-3***

ZONING

1. Is there an Overlay District, PUD, etc. that impacts the development of the outlot/excess land? ***No***
2. If yes, please describe:
3. What Jurisdiction is the property in? ***Municipality of Anchorage***
4. Is a restaurant permitted? ***Yes***
5. Is patio seating permitted? ***Yes***
6. Is there a restriction prohibiting a drive thru (restaurant, bank, etc.)? ***No***
7. Please add any additional information/comments that impact the outlot/excess land regarding zoning:

Restaurants are a permitted principal use only within the Industrial-zoned property (I-1).
Based upon the mixture of zoning for these outlots and proposed amendments to the Land Use ordinance being considered by the Municipality of Anchorage, potential buyers should investigate current requirements.

PARKING REQUIREMENTS:

1. Wal-Mart's required parking ratio:

Restaurant	15 / 1,000
Retail	5 / 1,000

2. Is the City or County's parking requirement greater than Wal-Mart's

No

If Yes, what is the requirement?

Restaurant	
Retail	

SIGNAGE:

1. What type of signage is allowed for the outlots per local codes and/or ordinances?

Other

2. If other, please define:

Dependent upon zoning, refer to AMC 21.47

3. What is the maximum height allowed for the signage?

Residentially-zoned properties (R-2M and R-3): 8 feet
Industrial-zoned property (I-1): 25 feet

4. What is the maximum square footage allowed for the signage?

Residentially-zoned properties (R2M and R-3): 30 square feet
Industrial-zoned property (I-1): Maximum allowable area shall not be less than 70 square feet nor greater than 200 square feet

5. Explain how the square footage is calculated:

Industrial-zoned property (I-1): 0.7 sq. ft. per 1 lineal foot of frontage.

6. If *Other or No* signage is permitted explain why and give options to change the signage regulations:

Based upon the mixture of zoning for these outlots and proposed amendments to the Land Use ordinance being considered by the Municipality of Anchorage, potential buyers should investigate current requirements.

7. Is roof signage permitted?

No

8. What is the maximum size?

Based upon the mixture of zoning for these outlots and proposed amendments to the Land Use ordinance being considered by the Municipality of Anchorage, potential buyers should investigate current requirements.

9. Are wall logo's and/or signs permitted?

Yes

10. Is Neon signage permitted?

No

11. How long is the variance process for outlot signage and what is required?

The planning director may grant an administrative variance from the height restrictions and/or setback requirements for freestanding signs (AMC21.47.105). The urban design commission shall decide on any request for a variance to regulations in AMC 21.47.

12. Describe all reviews, hearings, variances and general requirements known at this time:

None

PLATTING

1. Is the property (including the outlots/excess land) required to be platted? ***Yes***

   1a. If no please explain:

   1b. If *yes,* has the plat been recorded? ***Yes***

   1c. What is the book, page or volume? ***Plat 2012-65 (Anchorage Recording District)***

   1d. What was the date it was recorded? ***9/12/2012***

2. If the property has not been platted, please describe the process including who is responsible for the platting and timeframe for completion.

*****Note: If platting is not required, a metes and bounds legal description for each parcel should be forwarded to the respective Wal-Mart Land Development Manager as soon as possible.***

STREET/HIGHWAY ACCESS AND TRAFFIC STUDY:

1. Who has Jurisdiction on this site? ***Both ADOT and MOA***
2. Will the Jurisdiction allow direct access and/or curbcuts to the main street or highway? ***Yes***
3. If there is a concrete median in front of the property, will the Jurisdiction allow it to be cut? ***No***

*****Note: Wal-Mart does not typically allow purchaser's direct access and/or curbcuts to the main street or highway. Access to the outlot/excess land is granted through the Wal-Mart access drive!***

4. Are there any future highway/street improvements anticipated that would impact the outlot/excess land? ***Yes***

   4a. If yes, please describe along with the timeframe and location:

   Improvements to Patterson Street, 10th Avenue, Creekside Center Drive, Debarr Road and Muldoon Road being completed as part of Walmart project.

5. Are sidewalks required on the outlot/excess land? ***No***

   5a. If yes, what type and size:

6. Was a traffic study performed for the overall project? ***Yes***

   6a. If yes, was the outlot(s)/excess land included? ***Yes***

   6b. What was the estimated traffic count, peak hour trips, total trips, proposed use, etc. for each parcel?

   Tract A was assumed to include a large retail use with fueling station; TIA estimated 843 total trips of which 587 were new peak hour trips.
   Tracts C, D and E were assumed to be multi-family residential (163 dwelling units). Considered collectively, the TIA estimated 82 total trips of which 74 were new peak hour trips.

6c. Will an additional traffic study be required for each purchaser? ***No***

6d. If yes, please explain why and any requirements including applicable timeframes:

6e. Does the traffic study, trips, etc. have an expiration date? ***No***

6f. If yes, please provide the expiration date and any other important information:

UTILITIES:

Water

1. Is water stubbed to the outlot(s)?	***N/A***
1a. If not, where is it located?	
2. Is water stubbed to the excess land?	***No***
2a. If not, where is it located?	***Main available in adjacent road ROW.***
3. Who has Jurisdiction of the water line?	***Anchorage Water & Wastewater Utility***
4. What is the size of the water main?	***12" PVC***
5. What is the normal pressure?	***74 psi***
6. Is there a Tap Fee?	***Yes***
7. Is there a Meter Fee?	***Yes***
8. Can the hose bibs & irrigation be on a separate meter?	***No***
9. What is the size of the line required?	***Dependent upon use***
10. Are backflow preventer valves required for fire sprinkler lines?	***Yes***
11. Is the water line located in an existing easement?	***Yes***
12. Is there a current moratorium or a chance for one in the future?	***No***

13. Please add any additional information/comments regarding water:

Water main exists within road right-of-way adjacent to property.

Sanitary Sewer

1. Is sanitary sewer stubbed to the outlot(s)?	***N/A***
1a. If not, where is it located?	
2. Is sanitary sewer stubbed to the excess land?	***Yes***
2a. If not, where is it located?	
3. What is the size of the sewer line?	***8-inch***
4. Who has the Jurisdiction of the sanitary sewer line?	***Anchorage Water & Wastewater Utility***

5. Nearest manhole:

Tract A	Rim El.	***236.8***	Inv.El.Out	***227.3***

Tract C	Rim El.	***240.6***	Inv.El.Out	***224.2***
Tract D	Rim El.	***243.1***	Inv.El.Out	***228.1***
Tract E	Rim El.	***244.2***	Inv.El.Out	***232.8***

6. Is a grease trap required for a restaurant? ***Yes***
7. Is there a Tap Fee? ***Yes***
8. Are tap fees based on water useage? ***No***
9. Is the tap to be made by the city or a local plumber? ***Local Contractor***
10. Are there any special assessments? ***No***
11. Is there a current moratorium or a chance for one in the future? ***No***
12. Is the sanitary sewer line located in an existing easement? ***Yes***
13. If sanitary sewer is not available, can a septic system be used? ***N/A***

    13a. What type?

    N/A

    13b. Additional Comments:

    N/A

14. Can the septic field be paved over? ***N/A***
15. Has a percolation test been performed? ***N/A***

    15a. When? ***N/A***

    15b. What were the results? (1' in 30 minutes is required for a restaurant)

    N/A

    15c. If the test did not meet the above requirements, what are the alternative solutions?

    N/A

*****Note: Purchaser is responsible to perform their own percolation test on the outlot/excess land if a septic system is required.***

16. Please add any additional information/comments regarding sanitary sewer:

Storm Sewer:

1. Is storm sewer stubbed to the outlot? ***Select One***
2. Is storm sewer stubbed to the excess land? ***No***
3. If not, please explain how the storm sewer drainage will be addressed for each outlot/excess land:

Storm drain available within adjacent road rights-of-way. Approval to connect to storm drain must be obtained from MOA Department of Public Works.

4. Has Wal-Mart's detention facility been sized to accept the drainage?	***No***
5. Is the Wal-Mart detention pond encroaching on or included within the outlot/excess land property line?	***No***
6. Who has the Jurisdiction of the storm sewer?	***Municipality of Anchorage***
7. What is the size of the storm sewer?	***varies***
8. What is the depth?	***varies***
9. What is the tap fee?	***no fee***
10. Are catch basins required?	***Yes***
11. Is the storm sewer located in an existing easement?	***Yes***

12. Please add any additional information/comments regarding storm sewer:

*****Note: Purchaser will have to comply fully with any federal, state or local laws, regulations, ordinances, permits or other authorizations or approvals or other requirements relating to storm water discharges or the control or erosion or sediment discharges from construction projects, including but not limited to the Clean Water Act, 33 U.S.C.-1251 et seq., and the Storm Water General Permit for Discharges associated with Construction Activities (collectively the "Storm Water Requirements") including without limitation preparing a Storm Water Pollution Prevention Plan (if applicable) to avoid negatively impacting any erosion or sediment controls during earth-disturbing activities, if any.***

Electric

1. Is electric stubbed to the outlot?	***N/A***
1a. If not, where is it located?	
2. Is electric stubbed to the excess land?	***No***
2a. If not, where is it located?	***Power available within adjacent easements***
3. Is it overhead or underground?	***Overhead***
4. What is the voltage?	***unknown***
5. What is the phase?	***3-phase***
6. What is the wire?	***unknown***
7. Who has Jurisdiction of the electricity?	***Chugach Electric Association***
8. Is underground service required?	***No***
8a. If yes, will the power company bring conduit and wire to the transformer and/or building?	***Select Yes/No***
8b. Is there a standard cost per LF for the installation?	
8c. Transformer location:	
8d. Can the outlot/excess land be serviced with either a pole mounted or pad mounted transformer	***Select One***
9. Is the primary service connected to the existing transformer?	***N/A***
9a. Are there any service charges or connection fees?	***Yes***
9b. What is the cost?	***TBD by Chugage Electric Association***

10. Is the electric located in an existing easement?	***Yes***

11. Please add any additional information/comments regarding electric:

Extension of utility service must be coordinated with Chugach Electric Association

Gas

1. Is gas stubbed to the outlot?	***No***
1a. If not, where is it located?	
2. Is gas stubbed to the excess land?	***No***
2a. If not, where is it located?	***Within adajacent road right-of-way***
3. What is the maximum amount available?	***unknown***
4. Who has Jurisdiction of the gas line?	***Enstar Natural Gas Company***
5. What type of commitment will the gas company give?	***unknown***
6. Will the gas company bring the line to the building?	***Yes***
6a. What is the estimated cost to do so?	***TBD by Enstar Natural Gas Company***
6b. What is the size of the gas line?	***unknown***
6c. What is the pressure of the gas line?	***unknown***
6d. What is the BTU/CF rating?	***unknown***
6e. What is the specific gravity?	***unknown***
6f. Is a meter fee required?	***Yes***
7. Is the gas located in an existing easement?	***Yes***

8. Please add any additional information/comments regarding gas:

Telephone

1. Is telephone stubbed to the outlot?	***N/A***
1a. If not, where is it located?	
2. Is telephone stubbed to the excess land?	***No***
2a. If not, where is it located?	***within adjacent easements***
3. Is under ground service required?	***No***
4. Who is responsible for bringing telephone lines to the building?	***owner***
5. Is the telephone located in an existing easement?	***Yes***

6. Please add any additional information/comments regarding telephone:

FEES:

1. Are there any unusually expensive fees or assessments relating to the future development of this property? ***No***

2. If yes, please describe in detail and attach a schedule if available:

BUILDING CODES:

1. What are the building codes by which the architectural plans must comply with on the outlot/excess land?

International Building Code (2009) with local amendments

1a. What is the date they were adopted: ***5/24/2011***

2. What is the building permit fee schedule?

New Construction, Residential: $0.009 x Valuation
New Construction, Commercial: dependent upon constructed value (ref. AMC 23.10, Table 3-A)

3. Is the outlot/excess land located in a fire zone or district? ***No***
4. Are there any special fire department requirements in addition to standard plans? ***No***

SITE / LANDSCAPING:

1. Is there a landscaping ordinance in place? ***Yes***
2. Is there any special lighting requirements? ***Yes***

2a. If yes, please describe:

Based upon the mixture of zoning for these outlots and proposed amendments to the Land Use ordinance being considered by the Municipality of Anchorage, potential buyers should investigate current requirements.

3. What type of solid waste disposal is permitted?

3a. Compaction: ***Yes***
3b. Bulk pick up: ***Yes***
3c. Front loader: ***Yes***
3d. Side loader: ***Yes***
3e. Rear loader: ***Yes***
3f. Who has the Jurisdiction of solid waste: ***Municipality of Anchorage // Commercial Vendor***
3g. Is this adequate for Jurisdiction? ***Yes***
3h. Is a drain required in the trash area? ***No***
3i. Are hot and cold water hose bibs required in the trash area? ***No***

*****Note: Wal-Mart requires a masonry trash enclosure for compactor, dumpster.***

SOILS / ENVIRONMENTAL:

1. Was the outlot(s) rough graded?	
2. Was it compacted to Wal-Mart standard specifications?	*Select Yes/No*
3. Was the excess land rough graded, if applicable?	*No*
4. Was it compacted to Wal-Mart's specs?	*Select Yes/No*
5. Did the Phase 1 Environmental report indicate contamination?	*Yes*
3a. Report prepared by:	*Shannon & Wilson, Inc.*
3b. Dated:	*27-Feb-12*
3c. If yes, was the contamination located in close proximity to or within the outlot/excess land?	*Yes*
3d. If yes, was the contamination remediated as part of the overall project?	*No*

3e. Please provide any additional information/comments regarding the contamination:

Contamination was partially remediated. Walmart is currently negotiating Institutional Controls with AK Dept. of Environmental Conservation.

6. Is any portion of the outlot/excess land located in a flood plan and/or wetland area?	*Yes*

6a. If yes, please describe:

Per current FEMA mapping, flood plain extends across site. However, historic drainage patterns affected by development, but FEMA map revisions were not pursued.

TRAFFIC:

1. Average Daily Traffic:	*Debarr Road*	
	18290	v.p.d.
	2011	(year)

Civil Consultant: Please add any information and/or comments that you can think impact the development and/or title of the outlot/excess land:

Prospective Purchaser should conduct due diligence regarding environmental status of Tracts A and C; no environmental issues identified on Tracts D and E.

The purpose of this "Fact Sheet" is to provide general information regarding the subject property. It is the prospective purchaser's obligation to perform the necessary due diligence to insure that the property is capable of meeting the intended use.

CONTACTS:

The last page should be all local contacts (from your cover sheet)

CARL D. KUHN, CCIM, SIOR

JACK WHITE COMMERCIAL
3801 CENTERPOINT DRIVE #101
ANCHORAGE, AK 99503
(907) 301-1155
carl@cdkuhn.com

The information above has been obtained from sources believed reliable. While we do not doubt its accuracy, we have not verified it and make no guarantee, warranty or representation about it. It is your responsibility to independently confirm its accuracy and completeness.